Apex Tech Hub

WE BUILD SCALABLE TECHNOLOGIES FOR INTELLIGENT AND CONNECTED ENVIRONMENTS.

Vision

Our vision is to become a leading technology innovator by delivering integrated, secure, and scalable Internet of Things (IoT) and AI solutions that enhance operational efficiency, data-driven decision-making, and smart city development.

MISSION

- **Modernization**

Modernize infrastructure and operational systems through advanced IoT, AI, GIS, and cybersecurity solutions.

- **Sustainability**

Promote sustainable and data-driven smart environments for businesses and communities.

- **Innovation**

Foster innovation and collaboration in technology deployment.

3. ApexTechHub Scope and Thematic Areas APEXTECHHUB specializes in:

IoT Solutions

Device integration, fleet & asset management, smart environments, industrial automation, and real-time monitoring.

Artificial Intelligence

Machine learning, generative AI, reinforcement learning,
predictive analytics, and automation.

Geographic Information Systems (GIS)

Spatial analysis, remote sensing, environmental monitoring, and smart urban planning.

Cybersecurity

Network security, penetration testing, digital forensics, SOC monitoring, and risk assessment.

OUR SERVICES

AI Hub and Applications

Innovation in machine learning, AI automation, and predictive modeling. Business intelligence, smart automation, and deep learning solutions.

Cyber Hub and Services

Cybersecurity solutions for IoT, applications, and enterprise networks.
Ethical hacking, SOC operations and digital forensics.

GIS Hub and Applicagtions

Focused on geospatial intelligence and environmental analytics.
Applications: Urban planning, resource optimization and GIS-based solutions.

IoT Hub and Solutions

End-to-end IoT development, device integration, and real-time monitoring,
Solutions: Smart environments, industrial IoT, asset monitoring, and automation.

Geo Informatic System (GIS)

LIMS

LIMS – Land Information & Management System

OBJECTIVES

- To establish a centralized, accurate, and secure land records system using GIS and spatial databases.
- To support transparent land administration, ownership verification, and land-use planning.
- To enable data-driven decision-making for land development, taxation, and dispute resolution.
- To integrate spatial, legal, and administrative land data into a single authoritative platform.



SERVICES OFFERED

- Digitization and GIS mapping of land parcels and cadastral records
- Centralized land records database and spatial data management
- Land-use analysis, zoning, and change detection
- Web-based GIS portals and land management dashboards
- Secure system integration, access control, and reporting

Geo Informatic System (GIS)

GEO TAGGING

- **GIS-Based Smart Tube Well Inventory and Monitoring System**

OBJECTIVES

•To capture and verify the exact geographic location of assets, activities, and field operations.

•To improve data accuracy, transparency, and monitoring through location-based evidence.

SERVICES OFFERED

•GPS-based geo-tagging of assets, infrastructure, and field activities

•Mobile data collection with photos, coordinates, and timestamps

•GIS integration and spatial verification of tagged data

•Web dashboards for monitoring, reporting, and audit support

•Secure data storage and access control

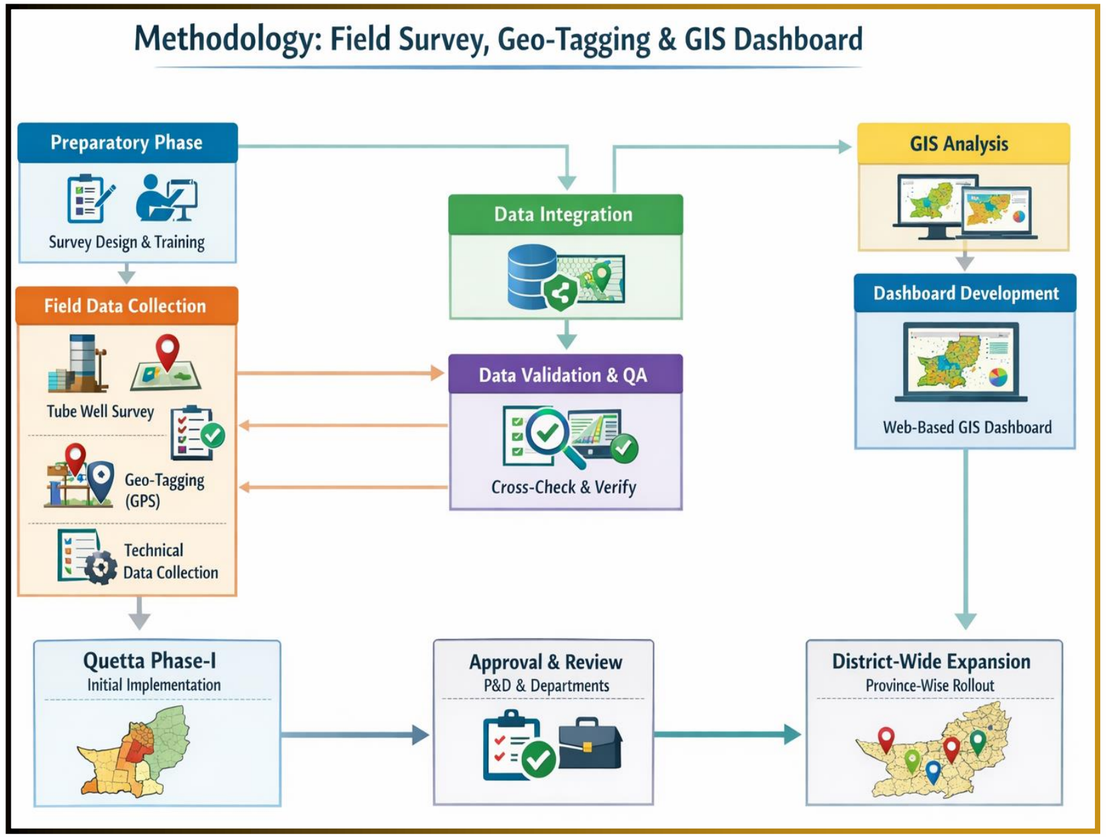

Artificial Intelligence (AI) & Data Analytics

WEB GIS SOLUTIONS

Interactive Web GIS Platforms And Online Spatial Data & Mapping Solutions

OBJECTIVES

- To deliver web-based GIS platforms for real-time spatial data access, visualization, and decision-making.
- To enable centralized, collaborative, and location-aware planning and monitoring.

SERVICES OFFERED

- Development of interactive Web GIS portals and dashboards
- Spatial data visualization, querying, and analysis tools
- Integration with IoT, mobile data, and enterprise systems
- Role-based access, data security, and reporting features

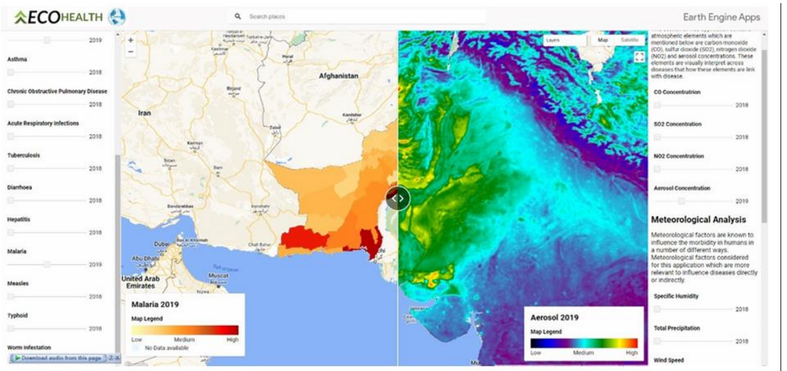

Artificial Intelligence (AI) & Data Analytics

AI Assistant

Agentic AI: Intelligent Automation & Decision-Making



OBJECTIVES

- Automate routine tasks and workflows to reduce manual effort and response time.
- Provide intelligent, data-driven assistance for queries, reporting, and decision support.
- Improve user engagement and service delivery through accurate, context-aware interactions.

SERVICES OFFERED

- Development of custom AI-powered virtual assistants and chatbots
- Integration with databases, GIS systems, and enterprise applications
- Task automation, data retrieval, and report generation
- Natural language query handling and user support systems
- Secure deployment, access control, and system maintenance

Artificial Intelligence (AI) & Data Analytics

AI Assistant

Agentic AI: Intelligent Automation & Decision-Making

OBJECTIVES

•Enable autonomous AI agents to perform tasks, make decisions, and interact with systems, reducing manual workload and enhancing operational efficiency.
•Provide secure, integrated AI solutions that support data-driven insights, natural language interactions, and seamless enterprise automation.

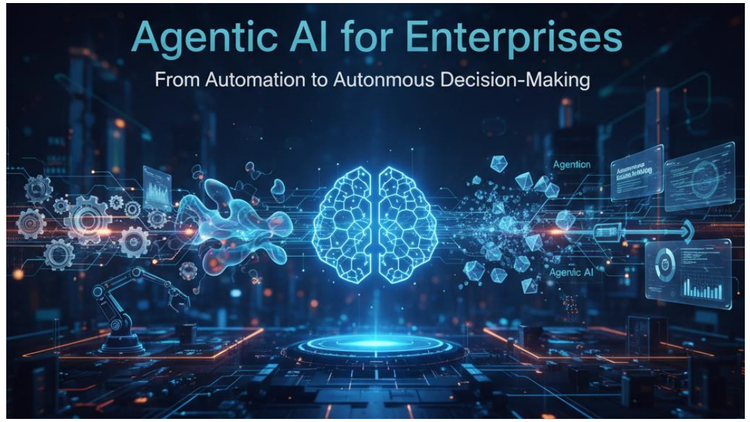

SERVICES OFFERED

•**Custom AI Agents & Chatbots:** Develop intelligent virtual assistants tailored to business needs.
•**System & Database Integration:** Connect AI agents with databases, GIS, and enterprise applications.
•**Task Automation & Reporting:** Automate workflows, retrieve data, and generate actionable reports.
•**Natural Language Support:** Handle user queries and provide intelligent assistance.
•**Secure Deployment & Maintenance:** Ensure robust access control, monitoring, and system upkeep.

CYBERSECURITY

CYBERSECURITY

Cyber Auditing & Security Assurance

OBJECTIVES

•Assess and strengthen organizational IT infrastructure to prevent cyber threats and ensure regulatory compliance.

•Identify vulnerabilities, mitigate risks, and provide actionable insights for secure, resilient operations.

SERVICES OFFERED

•Comprehensive IT system, network, and application security assessments.

•Vulnerability scanning, risk analysis, and compliance evaluation.

•Recommendations for improving cybersecurity posture and operational resilience.

•Continuous monitoring and reporting to maintain ongoing protection.

Cybersecurity Audit & Assurance

CYBERSECURITY

CYBERSECURITY

ISO 27001:2013 Information Security Management System (ISMS) Consultancy

OBJECTIVES

- Establish and implement a robust Information Security Management System (ISMS) aligned with ISO 27001:2013.
- Ensure protection of organizational information assets through risk-based controls and compliance measures.
- Prepare the organization for successful ISO 27001 certification by bridging gaps and enhancing information security practices.

SERVICES OFFERED

- **Gap Analysis & Risk Assessment:** Evaluate current practices, identify gaps, and develop risk treatment plans.
- **ISMS Implementation & Documentation:** Develop policies, procedures, controls, and records tailored to the organization.
- **Audit & Certification Support :** Conduct internal audits, staff training, and assist during certification audits.

CYBERSECURITY

CYBERSECURITY

SOC (Security Operations Center) Security Services

OBJECTIVES

•Monitor, detect, and respond to cybersecurity threats in real-time to protect organizational IT infrastructure.
•Reduce risk exposure and minimize the impact of security incidents through proactive threat management.
•Ensure continuous compliance with industry security standards and maintain the confidentiality, integrity, and availability of information assets.

SERVICES OFFERED

- **24/7 Security Monitoring & Threat Detection** :Continuous monitoring of networks, endpoints, and systems to identify and respond to threats in real-time.
- **Incident Response & Management** :Immediate handling, containment, and mitigation of security incidents, with post-incident analysis and reporting.
- **Vulnerability Assessment & Compliance Support :** Regular scans, risk assessments, and reporting to ensure compliance with ISO 27001, NIST, and other standards.

CYBERSECURITY

CYBERSECURITY

Comprehensive Cybersecurity & SOC Services with XDR and Threat Modeling

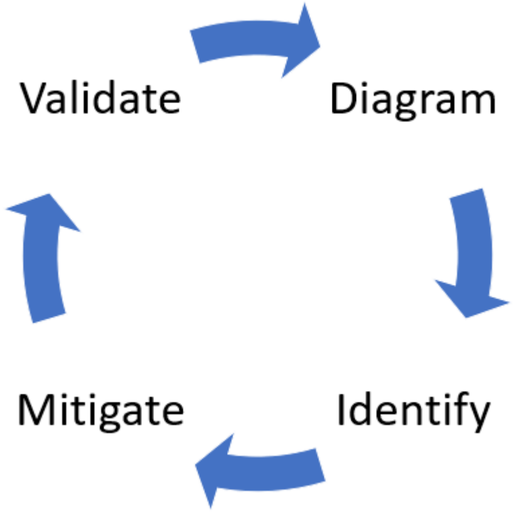

OBJECTIVES

- Provide real-time monitoring, detection, and response to cybersecurity threats using SOC and XDR technologies.
- Identify, assess, and mitigate potential security risks through structured threat modeling and risk assessment.
- Strengthen organizational security posture while ensuring compliance with industry standards and regulatory requirements.

SERVICES OFFERED

- **24/7 Security Monitoring & XDR** – Continuous monitoring across endpoints, networks, and cloud environments with Extended Detection & Response (XDR) for advanced threat detection and response.
- **Threat Modeling & Risk Assessment** – Identify potential attack vectors, assess vulnerabilities, and prioritize mitigation strategies to proactively protect critical assets.
- **Incident Response & Compliance Support** – Rapid containment and mitigation of security incidents, with reporting to ensure alignment with ISO 27001, NIST, and other regulatory standards.

OUR EXECUTIVE TEAM

DR. SHAFI ULLAH
CEO

ISRAR KHAN
CFO

SYED AHMED SHAH
CTO

OUR TEAM LEADS

ENGR. REHMAT ULLAH
CYBERSECURITY TEAM LEAD

NASEEBULLAH
CYBER HUB LEAD

SYED MUHAMMAD KHALID
AI TEAM LEAD

FARHAN ULLAH
STARTER LEAD

OUR CYBERSECURITY TEAM

NASEEBULLAH
CYBER HUB LEAD

ENGR. REHMAT ULLAH
CYBERSECURITY TEAM LEAD

MUHAMMAD HARIS
CYBER SECURITY ANALYST

SAMEER AZAM
CYBERSECURITY SPECIALIST

OUR AI TEAM

SYED MUHAMMAD KHALID
AI TEAM LEAD

MUSTAFA
AI ASSISTANT

OUR DEVELOPER TEAM



IBRAR ALI
FULL-STACK DEVELOPER

SHAHZAIB KHAN
WEB GIS APPLICATION DEVELOPER

FAIZA BOMAN-ALI
SMART OFFICE ASSISTANT & JUNIOR DEVELOPER

OUR GRAPHIC DESIGNER TEAM

BASHEER AHMED
GRAPHIC DESIGNER

OUR GIS TEAM

AMJAD KHAN
GIS ANALYTIC AND MAP DESIGN

AYESHA KASI
CAPACITY BUILDING AND TRAINER

NIAMAT ULLAH GIS ANALYST

MUHAMMAD HASSIN
WEB GIS APPLICATION DEV

OUR GIS TEAM

BASIT KHAN
GIS ANALYST

MUHEEB ULLAH
WEB GIS
APPLICATION DEV.

WARISHA
WEB GIS
APPLICATION DEV.

SALMANA AHMED
DOCUMENTATION /
REPORTING

ORGANIZATIONAL STRUCTURE

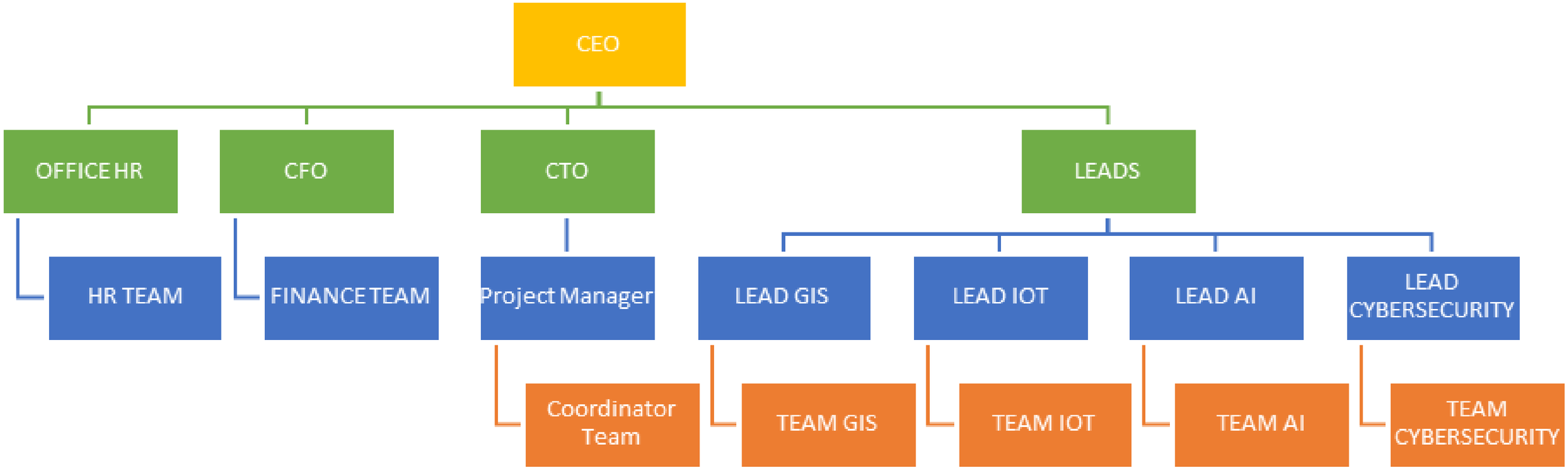

Our Products & Solutions

1: Facial based employee attendance system.

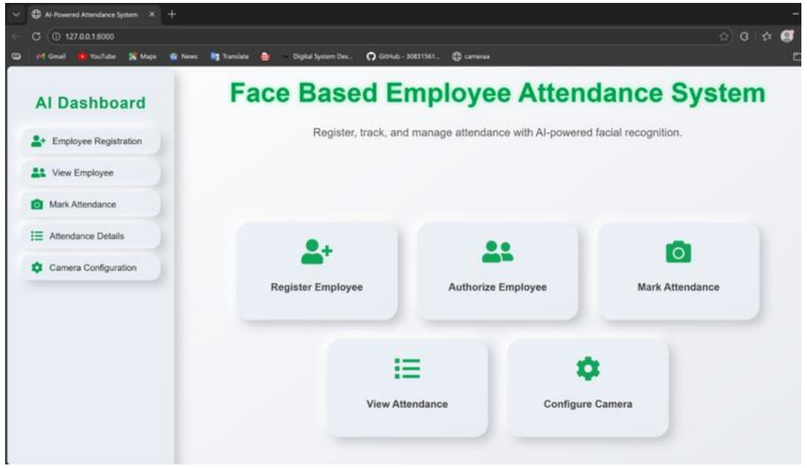

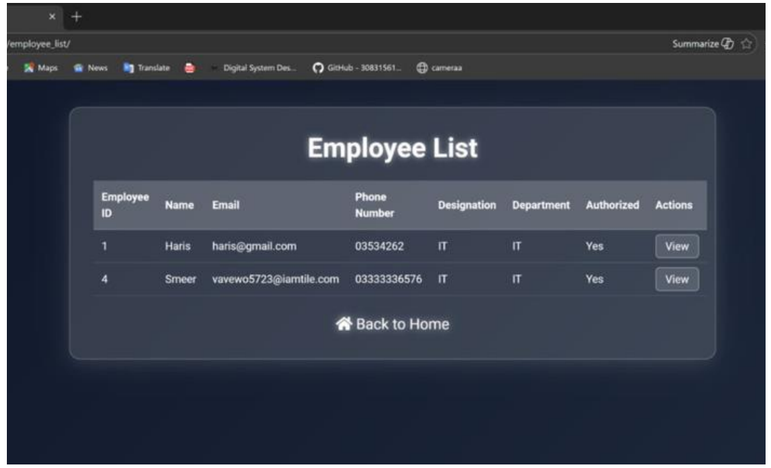

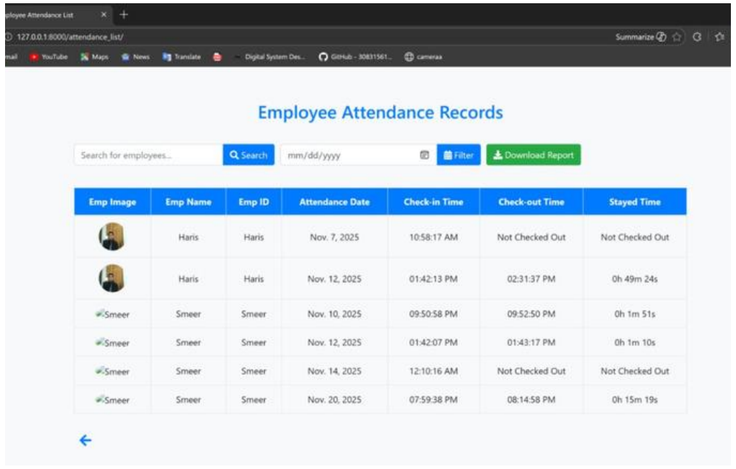

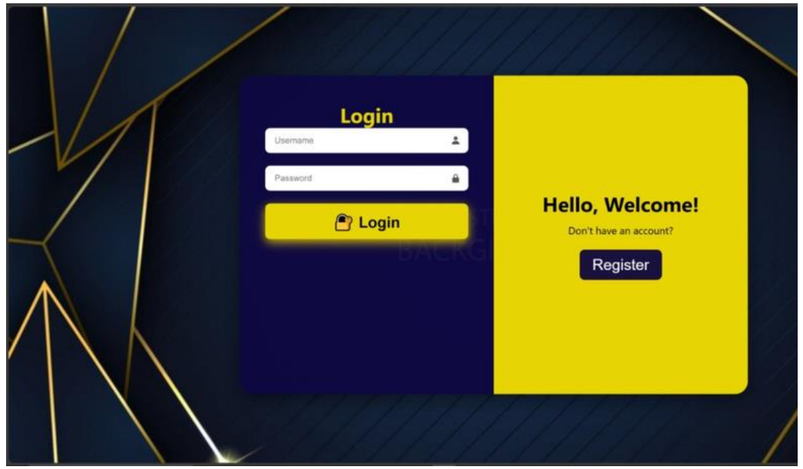

Our Products & Solutions

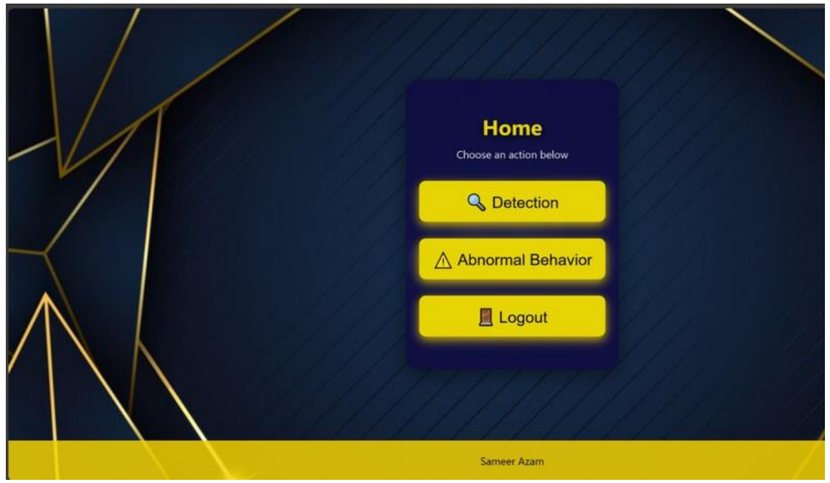

2: Abnormal Crowd behavior detection.

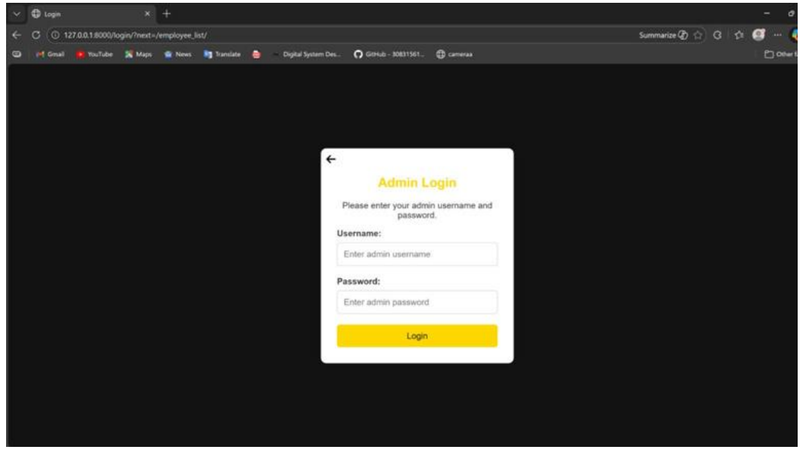

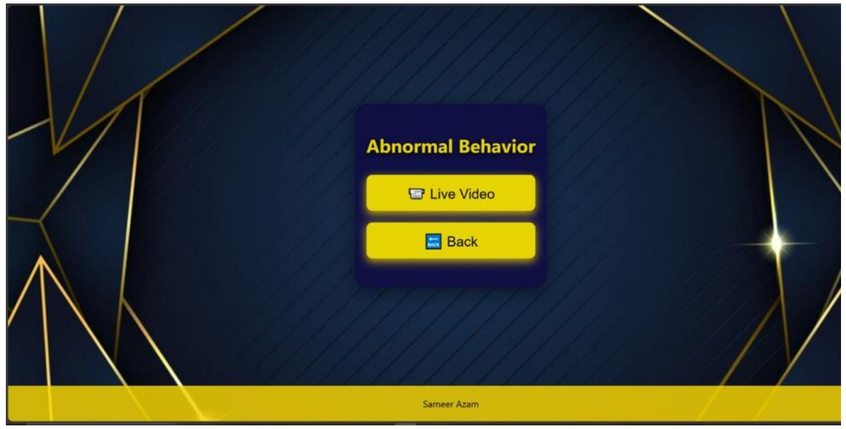

Our Products & Solutions

3: Wireless sensor Node Design and in line installing for Real time Deforestation and fire Prevention Alters Dashboard

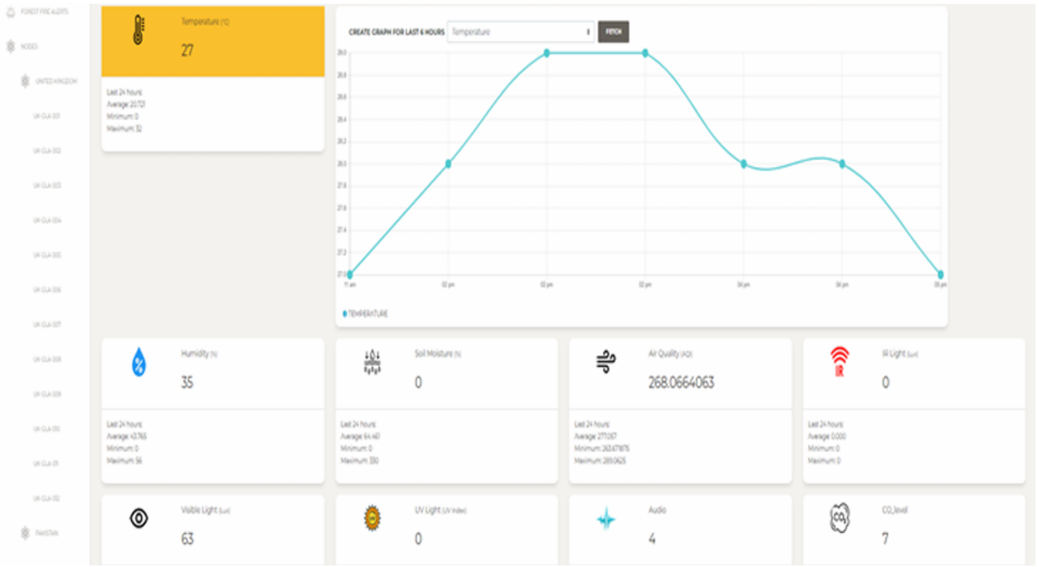

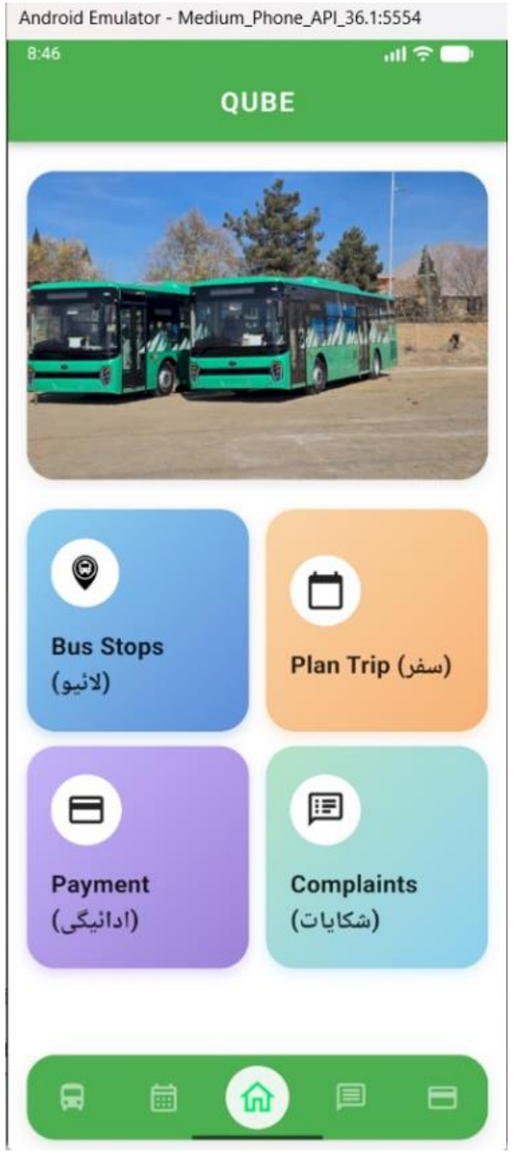

Our Products & Solutions

4: Intelligent Transport System Mobile application for transport department Government of Balochistan .

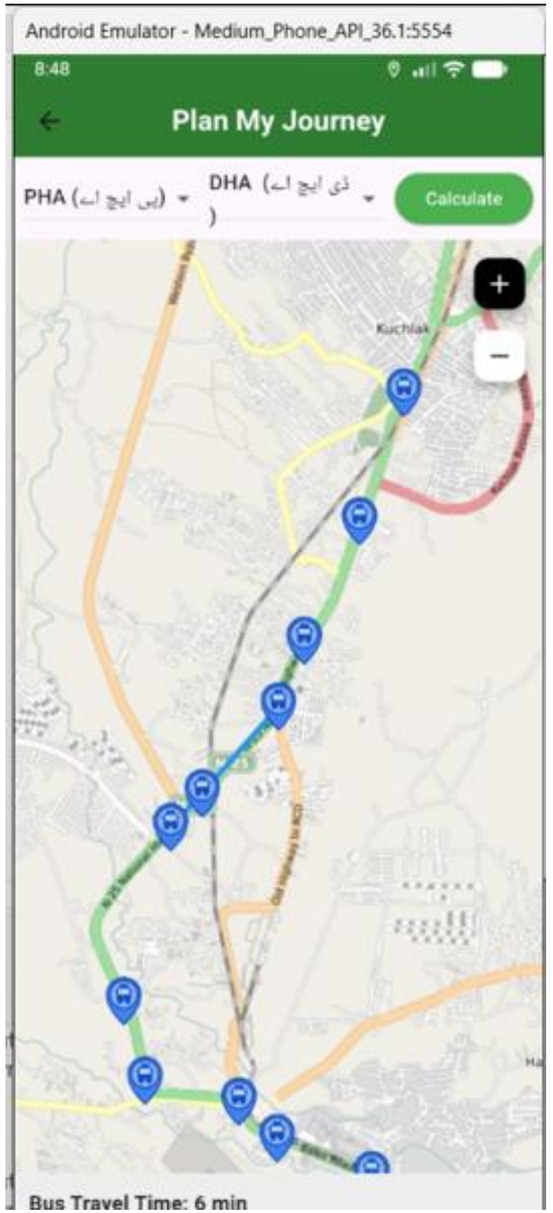

Our Products & Solutions

5: ECO-HEALTH APPLICATION

FOR ANALYZING THE TEMPORAL AND SPATIAL RELATIONSHIPS BETWEEN DISEASES AND THEIR SURROUNDING ENVIRONMENTS.

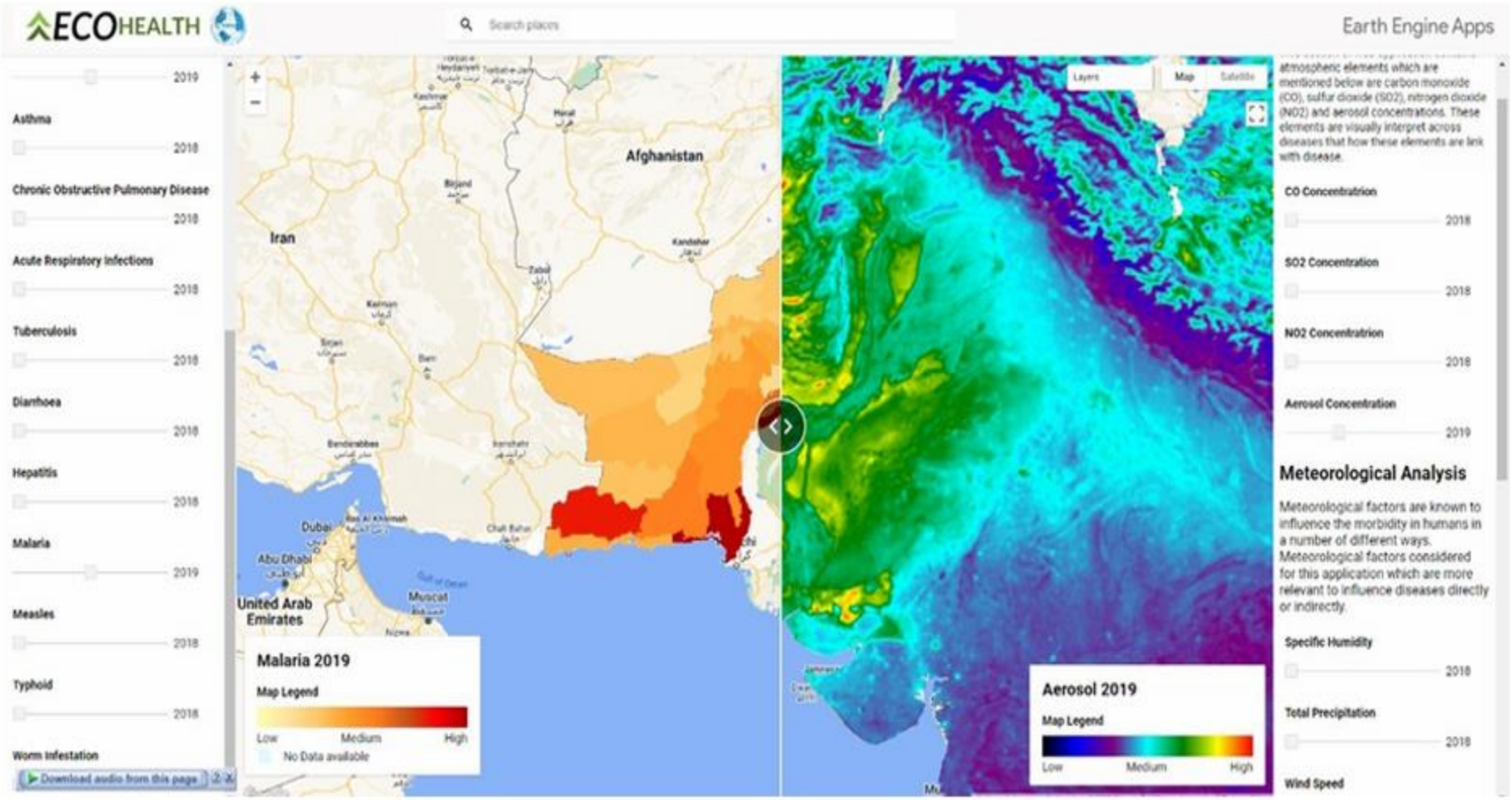

Our Products Solutions

4: Saffa Quetta Mobile application for Clean Cloud Project Saffa Quetta Government of Balochistan .

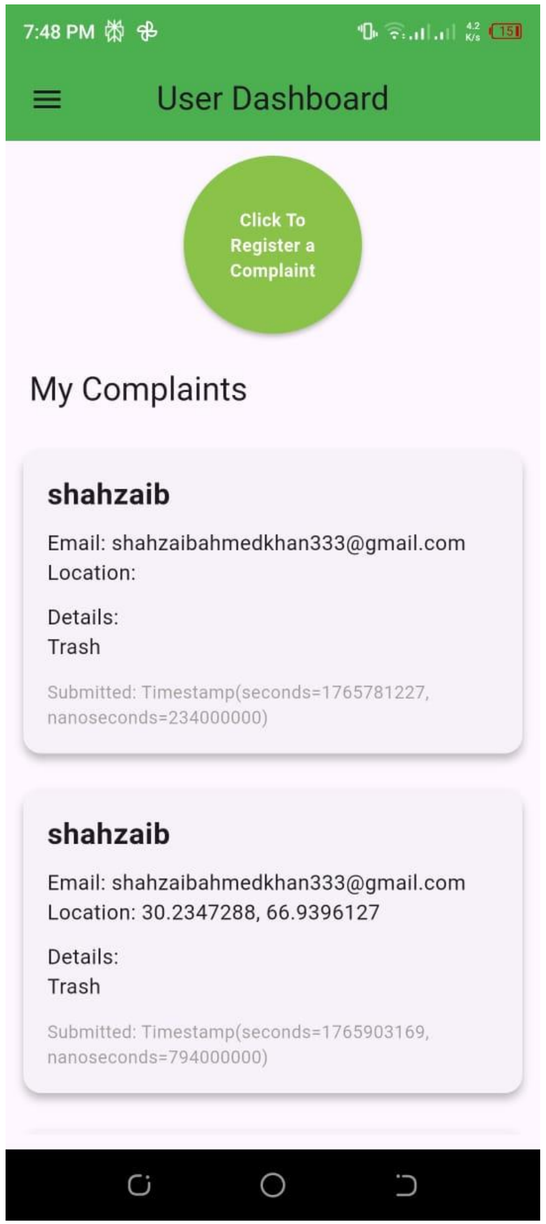

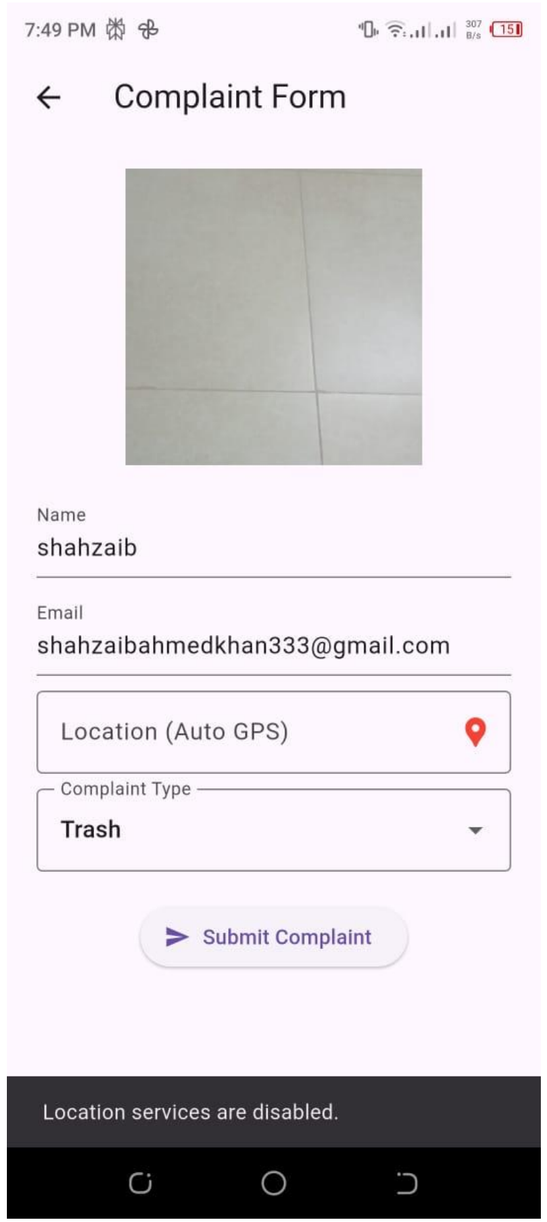

Our Products & Solutions

3: Soc Management and Intrusion Detection and Vulnerabilities Assessment

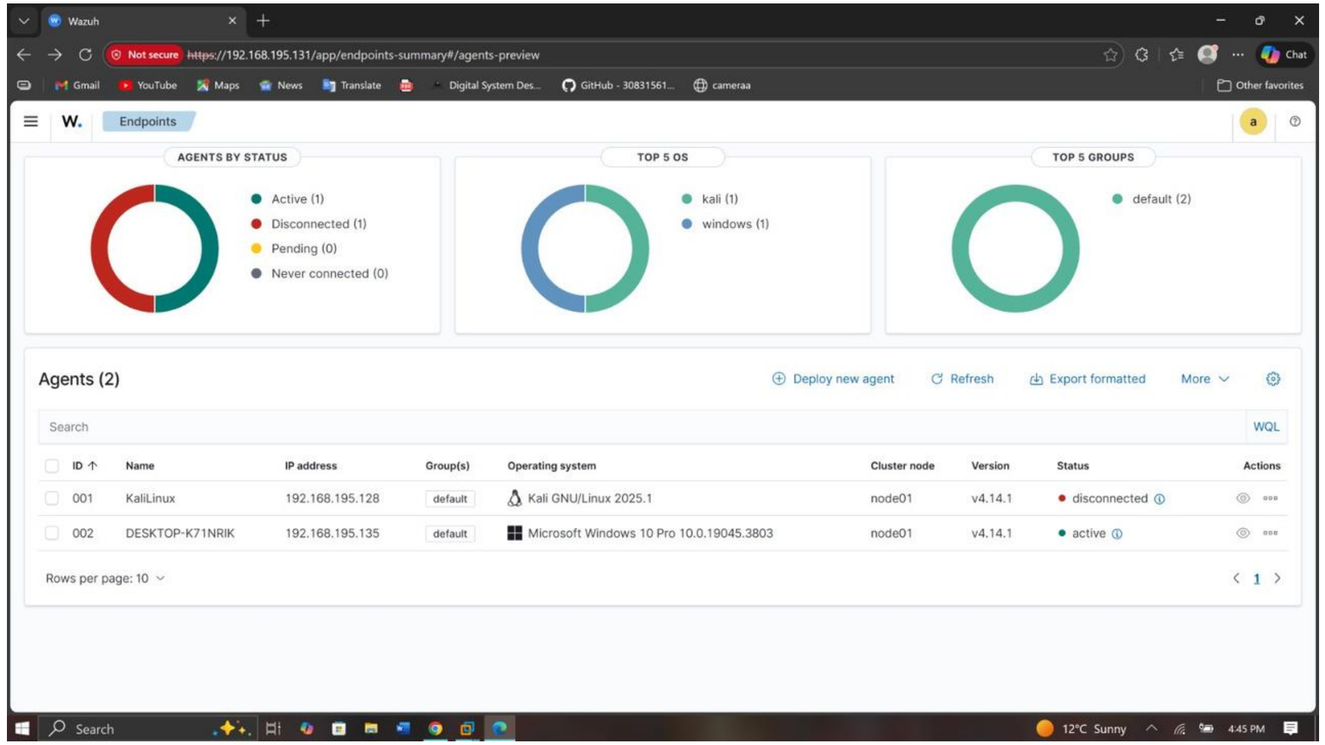

Partners & Collaborations

CHERRYTECH

SDSS

NCGSA
NATIONAL CENTER OF GIS & SPACE APPLICATIONS

International Center for Refugees of Migration Studies
ICRMS SYSTEMS

RBWR TA
Revival of Balochistan Water Resources

PWiSel

PAKISTAN NDMA

IWMI
International Water Management Institute

CARLTECK

ACTIVE
ACTIVE CLIMATE ACTION
Erasmus+

GEO EDGE SOLUTIONS

ELYSIAN SYSTEMS

iCORE

AI GEO NAVIGATORS

Stay In Touch

0316 8131423

info@apextechhub.org

https://apextechhub.org/